FORT WORTH MEACHAM INTERNATIONAL AIRPORT (FTW) ARRIVAL ALERT

Landing South
RWY 16 and RWY 17 and TWY A

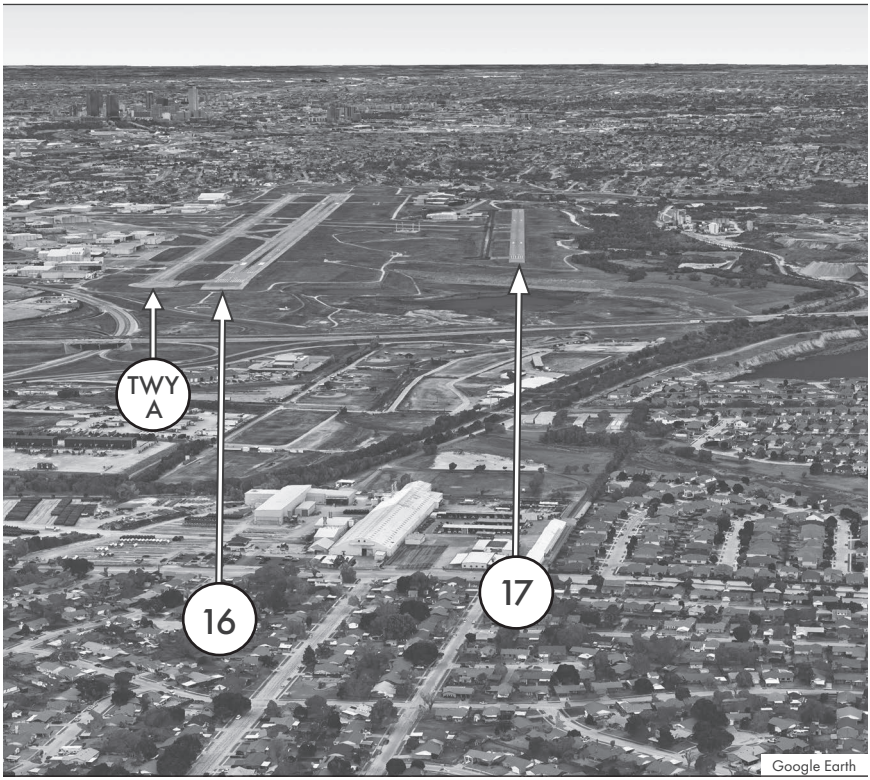

Pilots confuse RWY 17 for RWY 16. RWY 16 is over 3500 ft. longer, twice the width and over 1700 ft. closer than RWY 17. Pilots confuse TWY A for RWY 16.

Not for Navigational Purposes
For Situational Awareness Only

FORT WORTH MEACHAM INTERNATIONAL AIRPORT (FTW) ARRIVAL ALERT

Landing North
RWY 34 and RWY 35 and TWY A

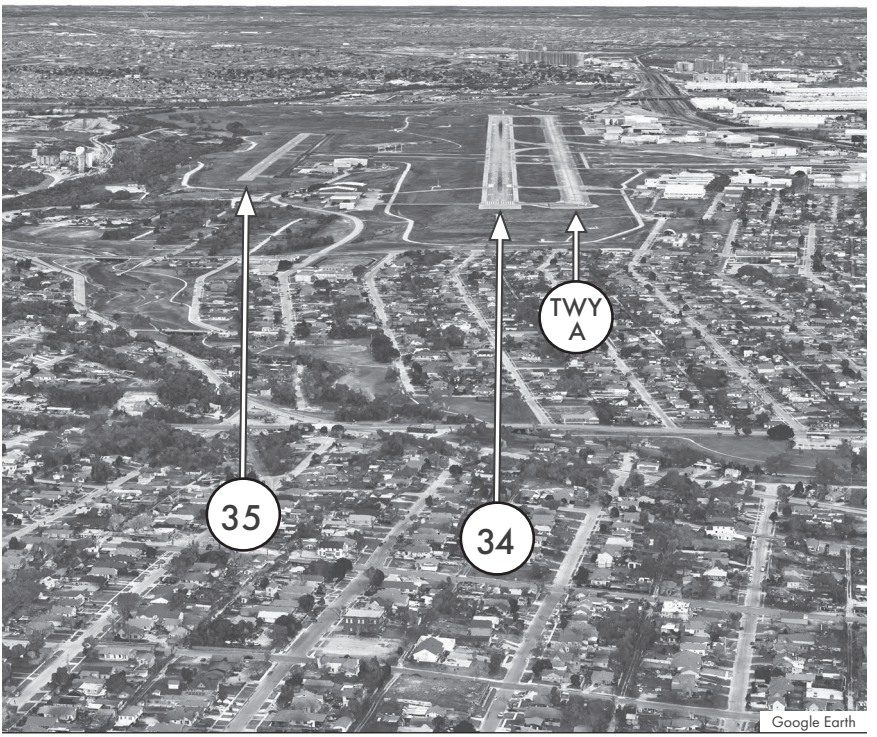

Pilots confuse RWY 35 for RWY 34. RWY 34 is over 3500 ft. longer, twice the width and over 1700 ft. closer than RWY 35. Pilots confuse TWY A for RWY 34.

Not for Navigational Purposes
For Situational Awareness Only

FORT WORTH MEACHAM INTERNATIONAL AIRPORT (FTW) ARRIVAL ALERT

Wrong Airport Landing
Landing North
FTW and JRB Carswell FLD (NFW)



NFW is approximately 5.5 miles Southwest of FTW Airport and its RWY is 4500 ft. longer and 50 ft. wider than FTW RWY 16/34. Pilots confuse NFW RWY 18 with FTW RWY 16. Pilots confuse NFW RWY 36 with FTW RWY 34.

Not for Navigational Purposes
For Situational Awareness Only

Office of Primary Responsibility (OPR): ATO, Runway Safety
Contact Information: (202) 856-1942
Original: January 2024